Avalanche Service Bavaria

Tuesday 24 March 2026

Published 23 Mar 2026, 17:00:00
Valid from 23 Mar 2026, 17:00:00 until 24 Mar 2026, 17:00:00
Written by Avalanche Service Bavaria
translated with DeepL

At higher altitudes, the snowpack still consists of several, sometimes weak layers.

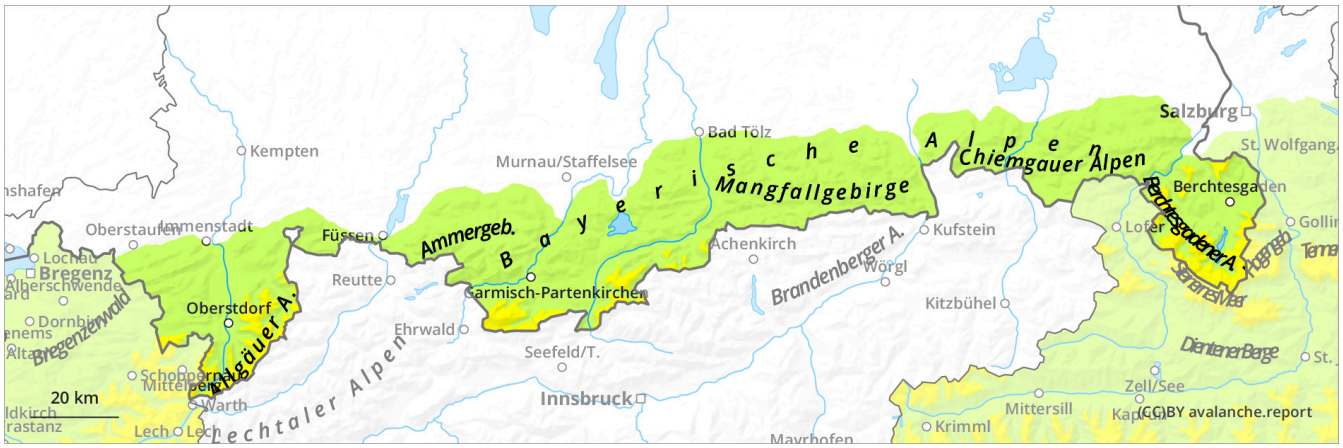

1	2	3	4	5
low	moderate	considerable	high	very high

Tuesday 24 March 2026

Published 23 Mar 2026, 17:00:00
Valid from 23 Mar 2026, 17:00:00 until 24 Mar 2026, 17:00:00
Written by Avalanche Service Bavaria
translated with DeepL

Danger Level 2 - Moderate

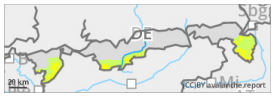

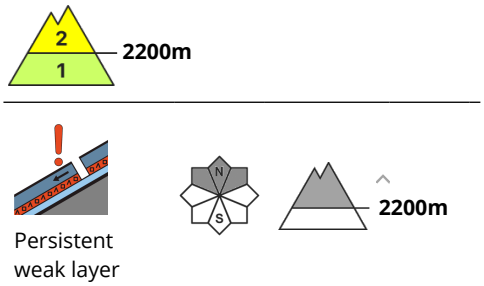

In the higher elevations there are weak layers near the surface.

The avalanche risk is moderate above 2200 metres and low below that. Persistent weak layers are problematic. The few avalanche prone locations are in very steep terrain in the north-west, north to north-east aspects. Slab avalanches can be triggered with little additional load and usually remain small. In rare cases, snow slabs can be triggered with a large additional load, for example by a small, superficial avalanche, in deep-lying weak layers and then reach medium size.

Sunlight can trigger small, wet loose snow avalanches from extremely steep terrain.

Snowpack

On shady slopes at higher altitudes (above 1500 m), weak layers can be found under older wind slabs in some places. At higher altitudes, soft layers close to the ground consist of larger, angular, sometimes rounded faceted crystals. The overlying old snowpack is well stabilised. The little new fallen snow becomes moist with the sunlight and loses firmness. In shady, wind-protected areas at high altitudes, it remains powdery. Overall, there is little snow and the south-facing slopes are thinning out more and more.

Tendency

With new fallen snow and stormy winds, the avalanche risk increases in the second half of the week.