Thursday 26 March 2026

Published 25 Mar 2026, 17:00:00
Valid from 25 Mar 2026, 17:00:00 until 26 Mar 2026, 17:00:00
Written by Avalanche Service Bavaria
translated with DeepL

The avalanche prone locations are more frequent in high and congested areas.

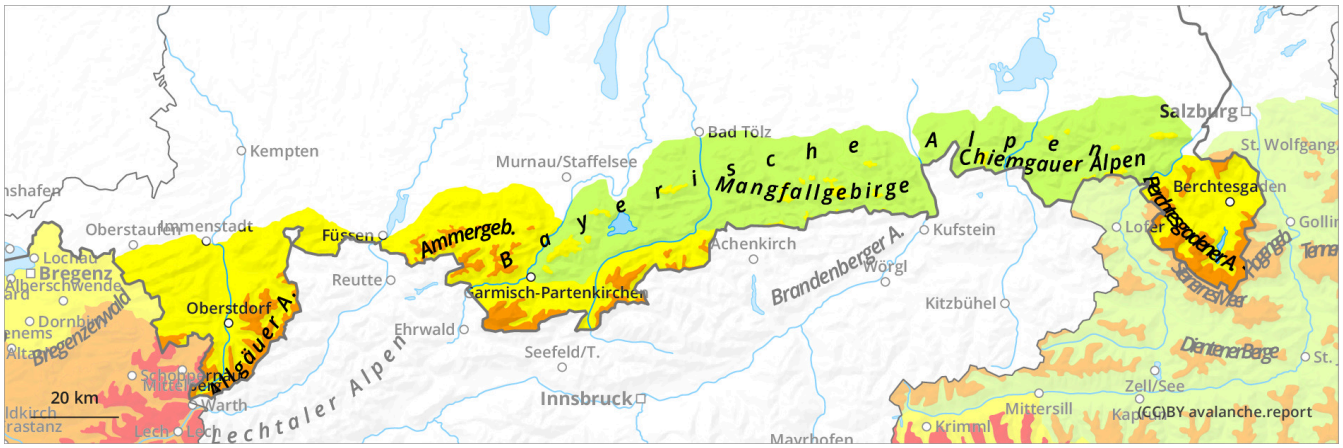

1	2	3	4	5
low	moderate	considerable	high	very high

Thursday 26 March 2026

Published 25 Mar 2026, 17:00:00
Valid from 25 Mar 2026, 17:00:00 until 26 Mar 2026, 17:00:00
Written by Avalanche Service Bavaria
translated with DeepL

Danger Level 3 - Considerable

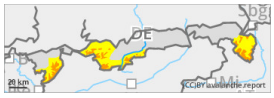

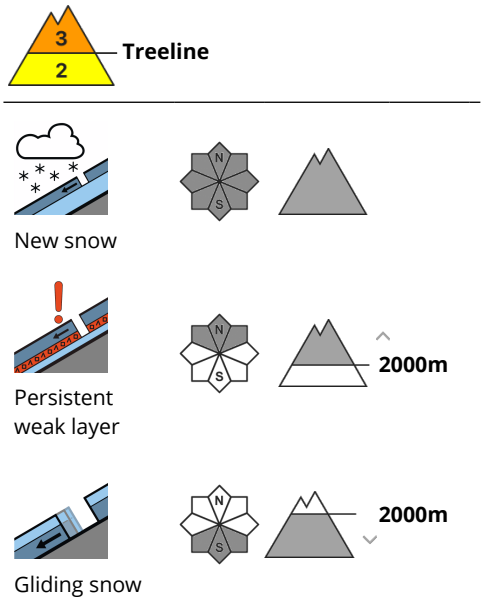

The number and extent of avalanche prone locations increase with altitude.

The avalanche risk is considerable above the tree line and moderate below it. The main problem is new fallen snow. The avalanche prone locations are in steep terrain adjacent to ridgelines in all aspects, behind slope discontinuities and in gullies and bowls. Slab and loose snow avalanches can detach themselves and reach medium size. Occasionally, avalanches with a large additional load, for example from a superficial avalanche, can be triggered in deeper weak layers and become large.

Especially in the Allgäu, gliding avalanches can detach themselves on previously aperic, very steep meadow slopes. They can reach medium size.

Snowpack

Around 40 to 50 cm of new fallen snow with strong, sometimes stormy winds from a north-westerly direction. The new and drifting snow is lying on soft snow on the northern sides of higher elevations and is prone to triggering. Weak layers prone to triggering are also embedded within the wind slab. The snowdrift accumulations are becoming large and are partly covered by new fallen snow. In the higher elevations, weak layers of faceted crystals can be found near the surface. Otherwise, the underlying old snowpack is generally well stabilised. On the southern slopes, the new fallen snow covers the previously apery ground and begins to glide snow.

Tendency

With wind, the wind slab can become a problem.