# Sunday 5 April 2026

Published 4 Apr 2026, 17:00:00

Avalanche.report

## earlier

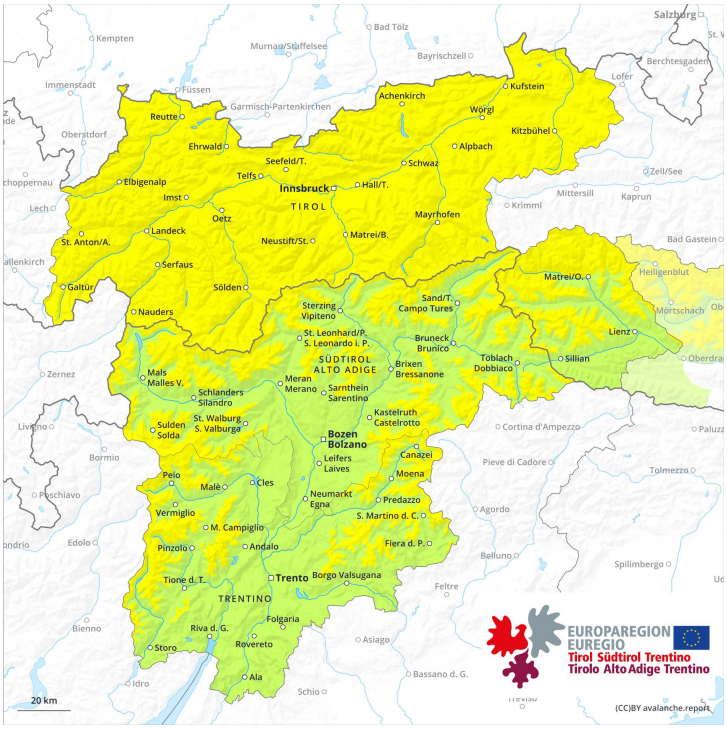


## later

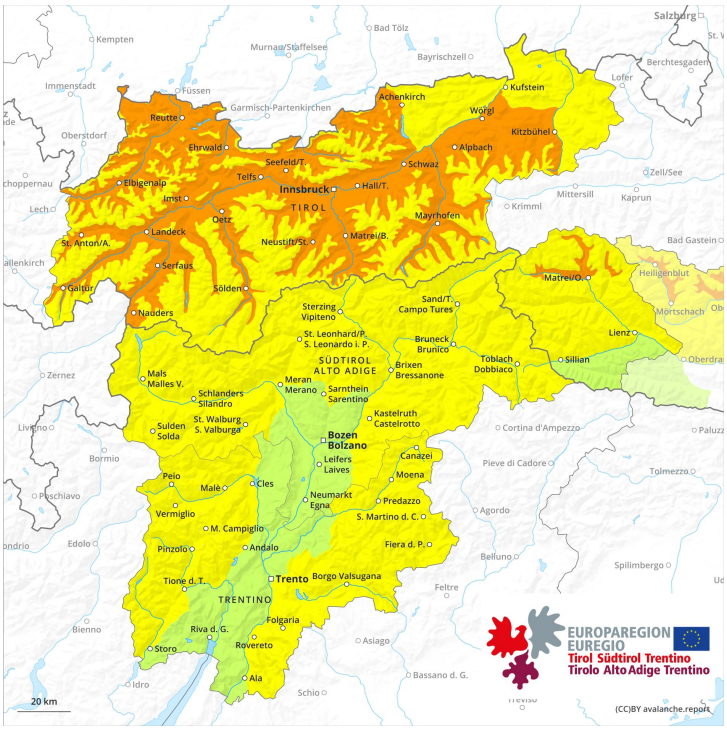


| 1 | 2 | 3 | 4 | 5 |
|---|---|---|---|---|
| low | moderate | considerable | high | very high |

## Danger Level 3 - Considerable

earlier

**Tendency: Constant avalanche danger**
on Monday 6 April 2026

Persistent weak layer

2200m

Snowpack stability: poor
Frequency: few
Avalanche size: large

Wet snow

2400m

later

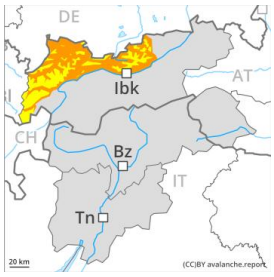


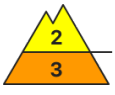


2200m

**Tendency: Constant avalanche danger**
on Monday 6 April 2026

Persistent weak layer

2200m

Snowpack stability: poor
Frequency: few
Avalanche size: large

Wet snow

2800m

### Weak layers in the upper part of the snowpack can be released in some places by people. Rapid increase in danger of moist and wet avalanches in the course of the day.

Avalanches can in some cases be released in near-surface layers and reach medium size. Avalanche prone locations are to be found especially on very steep west, north and northeast facing slopes between approximately 2200 and 2800 m. Individual avalanche prone locations are to be found also on very steep sunny slopes in high Alpine regions. Individual avalanche prone locations are to be found also on very steep slopes in areas close to the tree line. This applies along the border with Bavaria. The avalanche prone locations are difficult to recognise. Whumpfing sounds and the formation of shooting cracks when stepping on the snowpack can indicate the danger. Avalanches can in very isolated cases penetrate near-ground layers of the snowpack and reach large size.
As the day progresses as a consequence of warming during the day and solar radiation there will be an appreciable increase in the danger of moist and wet avalanches. More frequent wet loose snow avalanches

are to be expected, in particular medium-sized ones. This applies on extremely steep sunny slopes. Individual moist slab avalanches are possible, in particular medium-sized ones. This applies in particular on very steep west and east facing slopes between approximately 2200 and 2800 m. In addition the danger of gliding avalanches will increase as the day progresses. This applies on grassy slopes.

Backcountry tours should be concluded early.

## Snowpack

**Danger patterns** dp.4: cold following warm / warm following cold dp.10: springtime scenario

Isolated avalanche prone weak layers exist in the top section of the old snowpack, especially on west, north and northeast facing slopes between approximately 2200 and 2800 m, and on sunny slopes in high Alpine regions, also on west, north and east facing slopes in areas close to the tree line. This applies in particular along the border with Bavaria.
Towards its base, the snowpack consists of faceted crystals, in particular on west, north and east facing slopes at elevated altitudes.
The surface of the snowpack will soften quickly. Sunshine and high temperatures will give rise as the day progresses to gradual and thorough wetting of the snowpack.

## Tendency

The avalanche danger will increase a little during the day.